An Internship Report

On

TREND ANALYSIS AND REPORT GENERATION FROM INFORMATION/GEO-PHYSICAL PRODUCTS (TRIP)

SUBMITTED

BY

GANDRATHI AKSHAYA

(Affiliated to JNTU Hyderabad, Approved by TSCHE AICTE)
Aushapur (v), Ghatkesar (m), Medchal Dist., Hyderabad-501301

Under the Guidance of

T.RADHIKA

SCIENTIST / ENGINEER – SG

HEAD-APSDD/ODPG/DPA/NRSC

National Remote Sensing Centre

Indian Space Research Organisation, Dept. of Space,

Govt. of India, Balanagar, Hyderabad.

DECLARATION

I hereby declare that the project entitled "**TREND ANALYSIS AND REPORT GENERATION FROM INFORMATION/ GEO-PHYSICAL PRODUCTS"** submitted to the National Remote Sensing Centre, ISRO, Shadnagar, is a genuine record of my internship experience at NRSC, ISRO from 4th September 2024 to 25th October 2024. It is further declared that this report, or any part of this, has not been previously submitted to any university or institute for internship purposes.

GANDRATHI AKSHAYA

ACKNOWLEDGEMENT

I extend my heartfelt gratitude to my project guide **Mrs.T.Radhika, Scientist/Engineer-SG, Head of the Advanced Product and Software Development Division at NRSC, ISRO**, for her unwavering support and guidance throughout the completion of this project. Working under her mentorship has been a privilege and I am truly thankful for encouragement throughout the project completion.

I am also grateful to **Mr M. Suresh Kumar, Scientist-'SF' at NRSC, ISRO,** for his guidance and valuable suggestions and prompt resolution of all queries during the project's progression with consistent support.

I would also like to thank **Mrs.V.Keerthi, Scientist-'SE' at NRSC, ISRO, for** her continuous support and guidance throughout my Internship.

I extend my deepest thanks to the **Training and Outreach Facility** for granting me the opportunity to work at NRSC.

I would like to express my gratitude to **Ms. Savitha, Scientist-'SE' at NRSC, ISRO**, who provided me with the opportunity to undertake this internship.

Additionally, I am thankful to **Dr. Jaya Saxena, Scientist/Engineer-'SF' and Head of the Student Project Division at NRSC, ISRO** for providing me with this opportunity to work under such esteemed scientists at NRSC. Their approval not only allowed me to gain valuable insights into the industry but also helped me to apply my academic knowledge in a real-world setting.

GANDRATHI AKSHAYA

ABSTRACT

The NDVI Analyser is a powerful interface that allows thorough monitoring of vegetation health over time by doing trend analysis on several NDVI (Normalized Difference Vegetation Index) photographs. The difference between near-infrared (NIR) and red light reflectance is calculated to create the NDVI, a commonly used metric to measure vegetation density and vigour that is derived from satellite data. Analysing NDVI trends over several satellite Images taken at various times, however, can be difficult and time-consuming. This problem is solved by the NDVI Analyser, which automates trend analysis, data visualization, and NDVI computation. NDVI maps can be produced for each image after users upload and process multi-temporal satellite data from many sources, including Landsat, MODIS, and Sentinel. This also offers insights into trends in vegetation growth, degradation, or recovery by monitoring changes in NDVI values over various time periods and geographical locations. Additionally, the NDVI Analyser provides user-friendly visual outputs, such as time-series graphs and spatial overlays that assist users in identifying areas of concern, such as areas that are undergoing land-use changes, drought, or deforestation. This also facilitates thorough study of geophysical patterns by combining several NDVI datasets, enabling more informed choices in environmental preservation, climate change monitoring, and agriculture. The NDVI Analyser is a vital tool for both specialists and non-experts who need to conduct thorough, precise, and effective vegetation health assessments because of its automated and user-friendly interface.

TABLE OF CONTENTS

CERTIFICATE
DECLARATION
ACKNOWLEDGEMENT
ABSTRACT

CONTENT	PG.NO
CHAPTER-1: INTRODUCTION	
1.1 Introduction	1
1.2 Problem Statement	1
1.3 Scope	1
1.4 Need of the project	2
CHAPTER-2: SYSTEM REQUIREMENTS	
2.1 Software requirements	3
2.1.1 Operating System (Linux/Windows)	3-4
2.1.2 Programming Language (Python)	4
2.1.3 GDAL (geospatial abstraction library)	4-5
2.2 Hardware requirements	5
CHAPTER-3: METHODOLOGY	
3.1 Data Acquisition	6-8
3.2 Satellite Image Processing	8
3.3 Temporal analysis and data integration	8
3.4 Python Libraries	9-10
3.5 Designing the NDVI Analyser	10
3.5.1 Application and Design Layout	10
3.5.2 Key Functionalities	10-11
3.6 Extracting pixel values across multiple NDVI images	11-12
3.7 Error Handling in NDVI Analyser	12-13
3.8 Constraints	13
3.9 Assumptions	13-14
3.10 Log Writing in NDVI Analyser	14
CHAPTER-4: RESULTS	15-16
CHAPTER-5: CONCLUSION AND FUTURE SCOPE	
5.1 Conclusion	17
5.2 Future scope	17
CHAPTER-6: REFERENCE	18

CHAPTER-1
INTRODUCTION

1.1 INTRODUCTION

A popular remote sensing metric for evaluating the density and health of vegetation is the Normalized Difference Vegetation Index (NDVI), which is derived from satellite pictures. By offering insights on plant vitality and ecological changes, it is essential in domains including forestry, agriculture, and environmental monitoring. However, tracking patterns using NDVI analysis across numerous photos and time periods is a difficult and time-consuming process. An NDVI analyser can be created to automate the process of determining NDVI values, displaying spatial patterns, and identifying temporal trends across several NDVI images in order to overcome this difficulty. By improving and speeding the vegetation health monitoring process, this application will help users better to understand ecological shifts and make wise decisions; the NDVI Analyser will be a valuable resource for researchers, environmentalists, and agricultural professionals.

1.2 PROBLEM STATEMENT

Tracking vegetation over time is key to understand land-use trends, ecological shifts, and environmental deterioration. One often used metric for evaluating the health of vegetation using satellite data is the Normalized Difference Vegetation Index (NDVI). To identify trends and abnormalities, current technologies frequently can't compare NDVI data across time periods in a smooth manner. The goal of this project is to create an NDVI Analyser that automatically extracts, compares, and analyses trends in NDVI values from satellite photos taken at various dates. The application will help academics and environmental managers make data-driven judgments about vegetation changes, land management, and sustainability initiatives by displaying these trends.

1.3 SCOPE

The scope of developing an NDVI Analyser for trend analysis on multiple NDVI images includes automating the calculation and visualization of NDVI values across satellite imagery over different time frames. The tool will enable users to track vegetation health, detect temporal and spatial patterns, and analyse environmental changes over large geographic areas. It will support the integration of data from multiple satellite sensors (e.g. RS1/2/2A-L3 and L4 Sensors OCM3 etc.) and offer user-friendly features for viewing NDVI trends, such as time-series graphs. NDVI Analyser will cater to various applications, including agriculture, forestry, environmental monitoring, and climate change research, providing an efficient, scalable solution for large

datasets and multi-temporal analysis.

1.4 NEED OF THE PROJECT

The growing complexity of analysing vast amounts of satellite data to assess vegetation health is what made the NDVI Analyser project necessary. It is time-consuming, error-prone, and technically complex to manually analyse several NDVI photos in order to trace changes over time. This procedure is automated using an NDVI analyser, allowing for precise and efficient trend analysis of vegetation patterns over various time periods and geographical locations. It facilitates prompt decision-making in agriculture, environmental management, and climate research and makes it easier to identify important environmental changes like deforestation, crop health variance, or land degradation. The NDVI Analyser meets the need for more scalable and user-friendly tools to handle multi-temporal NDVI datasets by offering an automated, easily accessible solution.

CHAPTER-2
SYSTEM REQUIREMENTS

2.1 SOFTWARE REQUIREMENTS

1. Operating system (LINUX/WINDOWS)
2. Programming language (PYTHON)
3. GDAL (Geo-Spatial Data Abstraction Library)

2.1.1 Operating system (LINUX)

Linux is an open-source operating system. The software that controls a machine's hardware and resources—such as CPU, memory, and storage—is called an operating system.

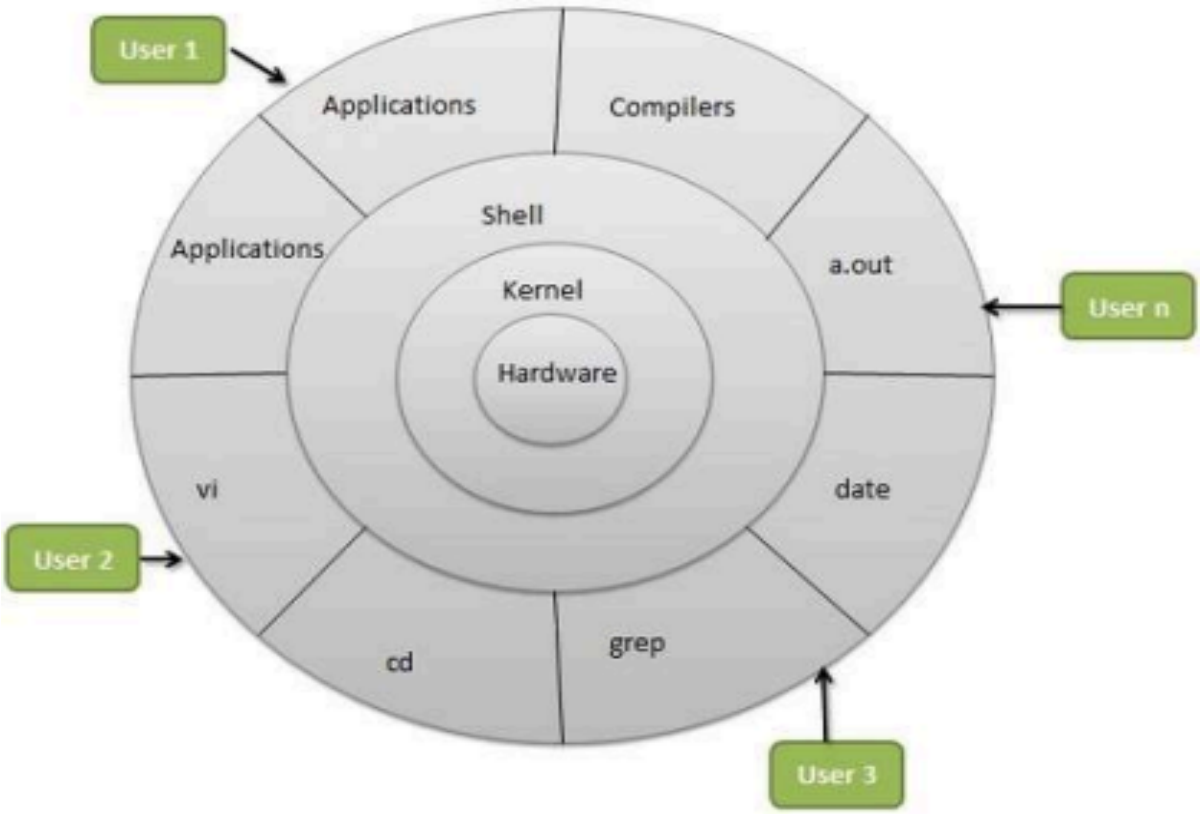

Linux is a powerful, open-source operating system that is widely used across various computing environments, from personal desktops to enterprise servers and cloud infrastructure. Built on the Linux kernel, it is known for its stability, security, and flexibility, making it a popular choice for developers, IT professionals, and organizations. Linux supports a wide range of hardware architectures and comes in various distributions, such as Ubuntu, Red Hat, Fedora, and Debian, each tailored to different needs. Its open-source nature allows users to customize the system and contribute to its development, fostering a collaborative community. Linux is also highly regarded for its command-line interface (CLI), which offers powerful tools for managing files, processes, and networking. It is widely used in fields like software development, scientific research, system administration, and cyber security due to its performance, scalability, and robust security features.

2.1.2 Programming language (PYTHON)

Python is a highly suitable programming language for developing an NDVI Analyser for trend analysis on multiple NDVI images due to its versatility, extensive libraries, and ease of use. Python's rich ecosystem of geospatial and data processing libraries, such as GDAL, Rasterio, and NumPy, makes it an ideal choice for handling satellite imagery and performing NDVI calculations efficiently. These libraries allow for the manipulation, analysis, and visualization of large, multi-temporal NDVI datasets, enabling automated extraction of vegetation indices from raw satellite data.

Moreover, Python's matplotlib and seaborne libraries provide powerful tools for visualizing NDVI trends over time graphs, making it easier to detect patterns and changes in vegetation health. For creating user-friendly interfaces, Python's Tkinter can be used to build graphical user interfaces (GUIs), allowing users to upload satellite images, select regions of interest, and view NDVI analysis results interactively. Additionally, Python's cross-platform compatibility ensures that the NDVI Analyser can run on different operating systems, including Linux, enhancing its accessibility for a broad range of users. Overall, Python's robust features and geospatial capabilities make it the language of choice for building an efficient and scalable NDVI Analyser for trend analysis.

2.1.3 GDAL (Geo-Spatial Data Abstraction Library)

The Geospatial Data Abstraction Library (GDAL) is an open-source library that provides powerful tools for reading, writing, and processing geospatial data formats. GDAL is a critical component in the field of geospatial analysis due to its support for a wide range of raster and vector data formats, including satellite imagery (TIFF, HDF), GIS data (Shape files, GeoJSON), and other geospatial file types. Its versatility and broad format support make it a cornerstone for geospatial data handling in applications such as remote sensing, geographic information systems

(GIS), and environmental modelling.

One of GDAL's key strengths is its ability to handle raster data, which is essential for satellite image processing and analysis. GDAL allows for the efficient reading and manipulation of multi-band satellite images, making it particularly useful for projects like NDVI analysis. With GDAL, users can easily access raw satellite imagery, apply mathematical operations to compute indices like NDVI, and extract the necessary bands (such as near-infrared and red light) for vegetation analysis. GDAL also offers tools for geo-referencing and projecting raster data, ensuring that satellite images align accurately with geographic coordinates, which is crucial for accurate analysis. In addition to its data handling capabilities, GDAL provides functions for data transformation and manipulation. Users can resample images, crop regions of interest, convert file formats, and project geospatial data into different coordinate systems. GDAL's integration with popular programming languages, such as Python, further extends its capabilities, enabling developers to build custom geospatial applications. Python bindings for GDAL allow users to programmatically interact with geospatial data, automate tasks such as reading image metadata, and process large-scale satellite datasets efficiently. In the context of trend analysis on multiple NDVI images, GDAL simplifies the process of handling multi-temporal satellite imagery, ensuring smooth data extraction, transformation, and visualization.

2.2 HARDWARE REQUIREMENTS

- Hard disk (Greater than or equal to 10GB)
- RAM (Greater than or equal to 4GB)

CHAPTER-3
METHODOLOGY

The methodology for trend analysis on multiple NDVI (Normalized Difference Vegetation Index) images involves several systematic steps to ensure accurate extraction, processing, and visualization of vegetation health trends over time. This NDVI Analyser aims to automate and simplify the analysis process by integrating satellite data handling, geospatial processing, and temporal trend visualization. The detailed methodology can be divided into the following phases:

3.1 Data Acquisition

E06_OCM_LAC: This refers to NDVI data derived from the Ocean Colour Monitor (OCM) on the Indian Remote Sensing (IRS) series of satellites, specifically from the LAC (Local Area Coverage) mode. To understand this in detail, let's break it down:

NDVI: Normalized difference vegetation index (NDVI) is widely used vegetation index that quantifies the presence and vigour of vegetation in a particular area. NDVI is a powerful index for assessing and monitoring vegetation health, which has wide-ranging applications in environmental, agricultural sciences, climate studies, land use planning and water resource management. Indian imaging satellite EOS-06 was launched on 26thNovember 2022. It consists of four payloads .Ocean Colour Monitor (OCM3), Sea Surface Temperature Monitor (SSTM), Ku-band Scatter meter and ARGOS. OCM3 operates in two modes a) Local area coverage (LAC) to provide 360m of spatial resolution with temporal resolution of 2days and b) Global area coverage (GAC) to cover the whole global in low resolution (1KM) with high temporal resolution (4days).

A. Ocean Colour Monitor (OCM)

The Ocean Colour Monitor (OCM) is a multispectral sensor. Indian Remote Sensing satellites (such as IRS-P4, Oceansat-2, and Oceansat-3), which is primarily designed to monitor ocean colour and related parameters. It can also be used to monitor terrestrial vegetation, land cover, and water bodies.

OCM operates in multiple spectral bands, including the red (visible) and near-infrared (NIR) regions that are crucial for NDVI calculations. These bands capture the specific light absorption and reflection properties of vegetation:

- **Red Band (Visible Spectrum)**: This band captures light in the red wavelength range (around 620-700 nm), which is heavily absorbed by chlorophyll in plants during photosynthesis. Low reflectance in this band indicates healthy vegetation.

- **NIR Band (Near-Infrared Spectrum)**: This band captures light in the near-infrared wavelength range (around 700-900 nm), which is strongly reflected by healthy vegetation due to the structure of plant leaves. High reflectance in the NIR band is a strong indicator of vegetation health.

B. NDVI Formula for OCM Data

NDVI is calculated using the following formula:

NDVI=(NIR-RED)/(NIR+RED)
In this formula:

- **NIR**: Represents the reflectance value in the near-infrared band (700-900 nm range).
- **Red**: Represents the reflectance value in the visible red band (620-700 nm range).

These values are obtained from the multispectral data collected by the OCM sensor. The result is a dimensionless number that ranges from **-1 to +1**, where:

- **+1** represents areas of very healthy, dense vegetation (e.g., forests, croplands during peak growth).
- **0** typically represents bare soil or very sparse vegetation.
- **Negative values** (closer to -1) indicate non-vegetated surfaces, such as water bodies.

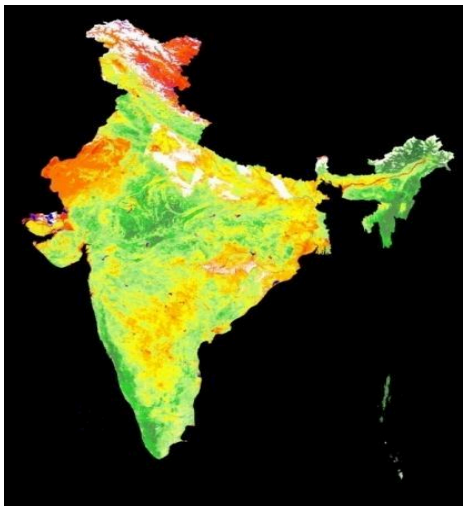

Fig.1. NDVI composite for the period: 19JAN2024_26JAN2024

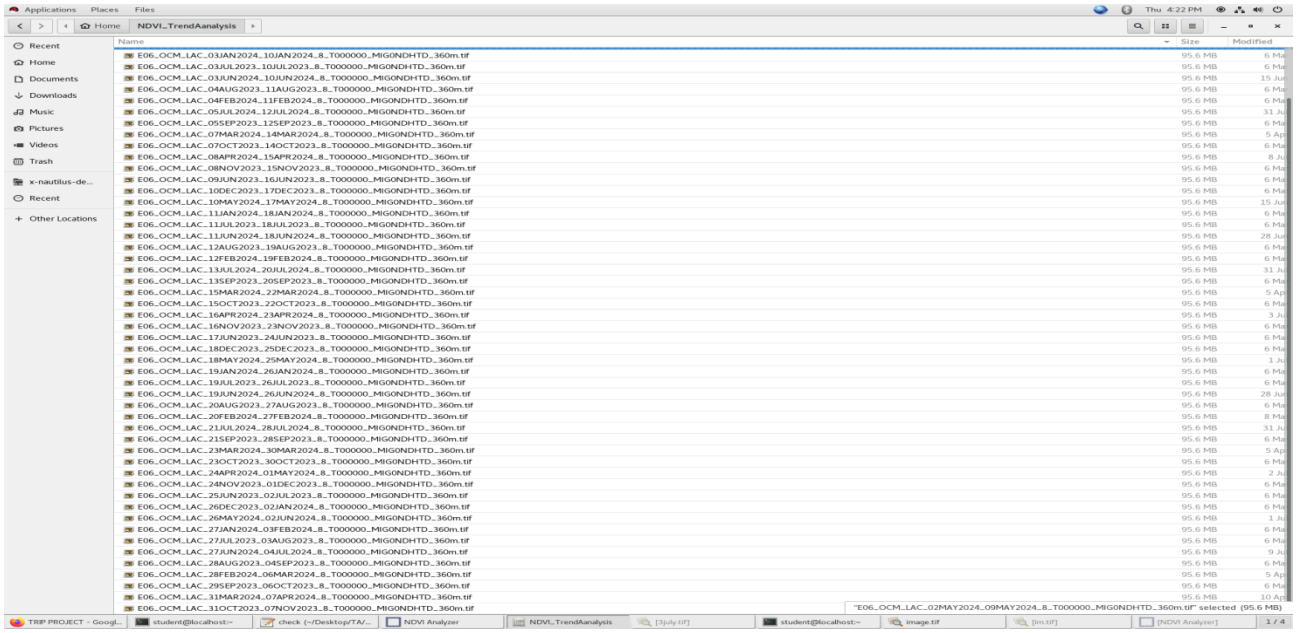

Fig.2.This figure shows the multiple NDVI Images over different time periods

3.2 Satellite Image Pre-processing

To guarantee accuracy and consistency, the satellite photos need to be pre-processed after they are obtained. Among the pre-processing actions are:

- **Projection and Geo-referencing**: Make sure that every image is projected into the same coordinate system and geo-referenced so that, when superimposed, they line up spatially.
- **Atmospheric Correction**: If required, this technique reduces distortions brought on by atmospheric circumstances that can alter NDVI results.
- **Image Cropping and Masking**: In order to eliminate undesired areas such as clouds and water bodies that are not essential to vegetation analysis, photographs are cropped to the area of interest and masks are applied.
- **Resampling**: This technique makes it simpler to compare NDVI values across time by resampling photos to maintain the same spatial resolution.

3.3 Temporal Analysis and Data Integration

- **Time-Series Construction**: NDVI values for specific regions (e.g., agricultural fields, forests) are extracted from each NDVI raster, creating a time series of NDVI values across multiple dates. This allows for the observation of vegetation changes over time.
- **Spatial Averaging**: In some cases, the NDVI values across the region of interest are averaged to produce a single NDVI value for each time point, simplifying the trend analysis.

3.4 Python Libraries

List of each library's purpose in the application: as follows:

1.Tkinter: This library is Python's standard GUI toolkit, ideal for creating a graphical user interface (GUI) with buttons, menus, canvases, and other interactive components. In the NDVI Analyzer, Tkinter enables users to interactively select NDVI images, zoom in, and view pixel trends. Tkinter widgets like Canvas, Label, Button, and Entry are useful for embedding images, displaying file paths, and capturing user inputs.

2. GDAL (Geospatial Data Abstraction Library): GDAL is essential for handling geospatial data formats, particularly large, complex files like TIFF images. In the NDVI Analyzer:

- **Reading TIFF Images**: GDAL allows you to load multi-band TIFF files efficiently, extracting band data necessary to compute NDVI values.
- **Geo-referencing**: If your TIFF images are geospatially referenced, GDAL can help preserve these properties when loading and manipulating the data. For NDVI analysis, this can be crucial for applications requiring spatial accuracy.
- **Band Management**: TIFF files often contain multiple bands (e.g., red, infrared for NDVI), and GDAL simplifies extracting specific bands, like the red and near-infrared (NIR) bands, which are then used in the NDVI calculation.

3.NumPy: Known for its powerful array manipulation capabilities, NumPy helps handle large datasets like NDVI arrays, allowing you to:

- **Process Pixel Data**: NDVI values are calculated per pixel, using formulas like (NIR - Red) / (NIR + Red), which involves array operations on the extracted bands.
- **Efficient Calculations**: With NumPy, you can apply mathematical operations across large datasets efficiently, helping to process large NDVI images quickly and reducing computational load.
- **Data Handling**: NumPy's array structure is also useful for passing data between functions and libraries, such as from GDAL to Matplotlib for plotting trends.

4. PIL (Pillow): This library specializes in image manipulation, which is helpful for:

- **Saving Processed Images**: After processing the image (adding overlays, color bars, and text labels), Pillow saves the final output in formats like PNG, JPEG or TIFF. This feature is valuable for saving the displayed NDVI images without any loss in quality or dimension.

5. Matplotlib: This library is used for creating trend plots and color bars.

- **Trend Analysis**: Matplotlib enables you to visualize NDVI trends across multiple images by plotting pixel values over time. This feature can help assess vegetation health or changes over a selected location.

3.5 Designing the NDVI Analyser

The NDVI Analyser is a Python-based application designed to automate the trend analysis process. The design process includes:

User Interface (UI): Developed using Tkinter to create a graphical user interface (GUI) that allows users to load multiple NDVI images and perform trend analysis. The UI will include:

3.5.1 Application Design and Layout

User Interface Layout:

- **Box 1**: File Selection Area(refer fig.3)
  - Displays the name of the currently selected TIFF file.
  - Includes a "Select New Image" button that opens a file dialog to load a different TIFF file.
- **Box 2**: NDVI Image Display with Color Bar(refer fig.4)
  - A canvas displays the NDVI image
  - Below the image, a color bar represents NDVI values for visual reference, resized to maintain clarity.
- **Box 3**: Trend Analysis Plot(refer fig.5)
  - This plot shows NDVI values across multiple TIFF files, enabling the user to track vegetation health over time.
  - Includes labels for image dates, enhancing the interpretability of trend data.

Color Bar Integration: The color bar is displayed below the image, with color gradations representing NDVI ranges from -1 to 1. Users can interpret NDVI values by referencing this bar, which aids in assessing vegetation density visually.

3.5.2 Key functionalities

1. **File Browsing and Selection**:
   - The browse file method allows users to select a new TIFF image from their file system. After selection, the NDVI image is displayed with updated details.

2. **NDVI Image Display**:
    - **Color Mapping**: When a color table is embedded within the TIFF file, it is extracted to generate a custom color map. If not, a default color map (RdYlGn) is applied to represent vegetation health.
    - **Image Annotation**: The file name is displayed on the top right corner of the image canvas as a quick reference.
3. **Displaying the colorbar:**
    - The display_color_bar method loads and resizes the color bar image, placing it below the main NDVI image for ease of interpretation. This ensures that users can correlate colors in the NDVI image with actual NDVI values.
4. **Trend Analysis and Pixel Retrieval:**
    - **Pixel Value Extraction**: Users can click anywhere on the displayed NDVI image to get the pixel's x and y coordinates. This feature retrieves NDVI values across all loaded TIFF images for that pixel, displaying them on the trend analysis plot.
    - **Plotting Trend**: The application generates a trend line using matplotlib for the selected pixel, with dates extracted from filenames on the x-axis and NDVI values on the y-axis.
    - **Coordinate and Value Display**: A label below the trend plot displays the coordinates and respective NDVI values for easy reference
5. **Sorting and Date Extraction:**
    - **Sorting TIFF Files by Date**: The sort_files_by_date method parses dates from filenames (e.g., 02DEC2023) and sorts the files chronologically to ensure accurate time-based trend analysis.
    - **Date Display on Trend Plot**: Date labels (formatted as ddMMMyyyy) make the trend plot easier to read and contextualize.
6. **Saving the Displayed Image with colorbar:**
    - **Image Capture**: By using the Image Grab method the user captures the entire canvas, including the NDVI image and color bar, preserving the data integrity.
    - **Save Options**: Users can save the canvas as a .tif file, allowing for easy sharing or further analysis. The file dialog provides options to save in various formats.

3.6 Extracting Pixel Values across Multiple NDVI Images

After creating the NDVI Analyser, the user will place the cursor over a particular point on an NDVI image. At this point, the NDVI Analyser will extract the pixel values from multiple different NDVI files (which may represent different times or conditions) and display them. The pixel values at this location will range from 0 to 255, as typically seen in 8-bit grayscale images where 0 represents the lowest NDVI value and 255 represents the highest. Here's a detailed breakdown of how this trend analysis works and what these pixel values represent.

For trend analysis, users will extract the NDVI values from different NDVI images. These images could represent different time periods, when you place the cursor on a particular pixel location on the NDVI image:

- The NDVI Analyser will retrieve the NDVI pixel values at that location from different NDVI files.
- These pixel values will represent the vegetation health for that specific geographic location over time.

3.7 Error Handling in NDVI Analyser

1. File Selection Errors

- **Unsupported File Formats**: Ensure that only compatible NDVI image formats (e.g., TIFF, PNG) are selectable. If a user tries to select an unsupported format, an error message should inform them of acceptable formats.
- **File Not Found**: If a selected file is not found (e.g., it was moved or deleted), notify the user and prompt them to select another file.
- **Large File Handling**: Given the large size of NDVI images (e.g., 10082x9471), load time might be long or may cause memory errors. Handle this by displaying a loading indicator and possibly a warning if memory usage is high.

2. Image Loading and Conversion Errors

- **File Conversion Issues**: When converting TIFF to PNG, errors may occur due to file corruption or unsupported TIFF variations. Use exception handling to catch conversion errors and alert the user with a message like "Image conversion failed. Please check the file format or try a different image."
- **Dimension Constraints**: If any issue arises while loading an image with the specific dimensions (10082x9471), prompt the user about possible memory limits or advise using a smaller dataset.

3. Display and Rendering Errors

- **Invalid Image Dimensions**: If the selected image doesn't match the required dimensions or has been altered, notify the user that the image may not display correctly.
- **Color Bar Display Issues**: If the color bar image path provided by the user is invalid, display a message like "Color bar file not found. Please verify the file path and try again."
- **Zoom Functionality Issues**: If zoom functionality encounters errors (such as out-of-bound zoom levels), constrain zoom levels to avoid errors. Inform the user if they've reached the maximum zoom level.

4. Cursor Hover Trend Display Errors

- **Out-of-Bounds Coordinates**: If the cursor is outside the image boundaries or if there's no data for a particular pixel location, prevent the application from attempting to fetch data and instead display "No data available."

- **Data Read Errors**: If fetching trend data from a file fails, ensure the application provides a message indicating that data for that specific pixel is unavailable.

5. Saving Image Errors

- **Write Permissions**: When saving the displayed image, handle cases where the application lacks permissions to write to the selected location. Alert the user to try a different save location.
- **File Format Issues**: Ensure the save format is compatible with the viewer application (e.g., PNG format). If there's an issue saving, provide a message indicating the acceptable formats and possible troubleshooting steps.

3.8 Constraints

Here are some constraints of your NDVI Analyser application based on the requirements you've specified:

1. **Image Dimension Preservation**: The application must display and save NDVI images in their original dimensions (10082 rows and 9471 columns) without any resizing, scrolling, or dimension loss.
2. **Color Consistency**: The displayed and saved images must retain their original color values, ensuring that no normalization or color adjustments are applied to the NDVI images and color bar.
3. **Image Format Conversion**: TIFF files need to be converted to PNG format when selected, to maintain consistent display dimensions and ensure compatibility with the application's display and saving functions.
4. **Screen Fit**: The application should fit the entire NDVI image within the screen's viewable area based on the screen resolution, allowing the full image to be visible without scrolling, while still preserving the original image dimensions.
5. **User Interface Layout:** The UI should display the NDVI image, color bar, and text annotations on a single screen. All components should be fixed in position, allowing users to view the image and associated trends without scrolling or additional adjustments.

3.9 Assumptions

When developing an NDVI (Normalized Difference Vegetation Index) Analyser, several assumptions may be made to ensure that the application functions correctly and provides meaningful results. Here are some common assumptions:

1. **Input Data Quality:** It is assumed that the input NDVI images are of high quality, with minimal noise and distortions. The images should ideally be processed to remove atmospheric effects and other interferences.
2. **Consistent Image Dimensions:** The application may assume that all NDVI images are of consistent dimensions, or that the user will provide images of the same size to ensure compatibility in analysis and display.

3. **Uniform Scale and Units:** It is assumed that the NDVI values are on a uniform scale and that users understand the interpretation of these values (e.g., NDVI values range from -1 to 1).

3.10 Log writing in NDVI Analyser

In the context of an NDVI Analyser, log writing can be implemented to track various processes involved in the analysis of NDVI images. Here's how you can effectively use log writing in your NDVI Analyser:

1. Setup Logging Configuration: Configure a logging system to define where logs will be stored and the level of detail to be logged (e.g., DEBUG, INFO, WARNING, ERROR).

2. Log Key Events and Processes: Throughout your NDVI Analyser code, log significant events, such as loading images, calculating NDVI values, and saving results.

3. Log User Interactions: If the NDVI Analyser has a graphical user interface (GUI), log user interactions such as file selections and parameter changes

4. Monitor Performance: Log the time taken for specific processes to help identify bottlenecks or performance issues.

CHAPTER-4

RESULTS

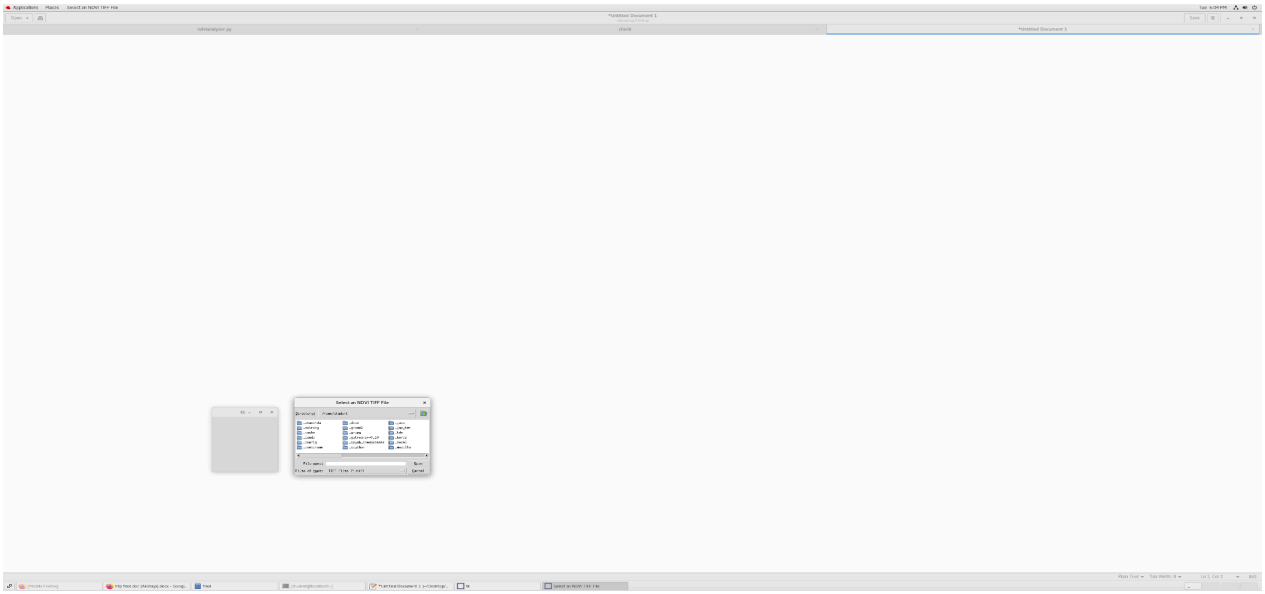

Fig.3.This figure displays the Tkinter and file dialog box to select the NDVI image

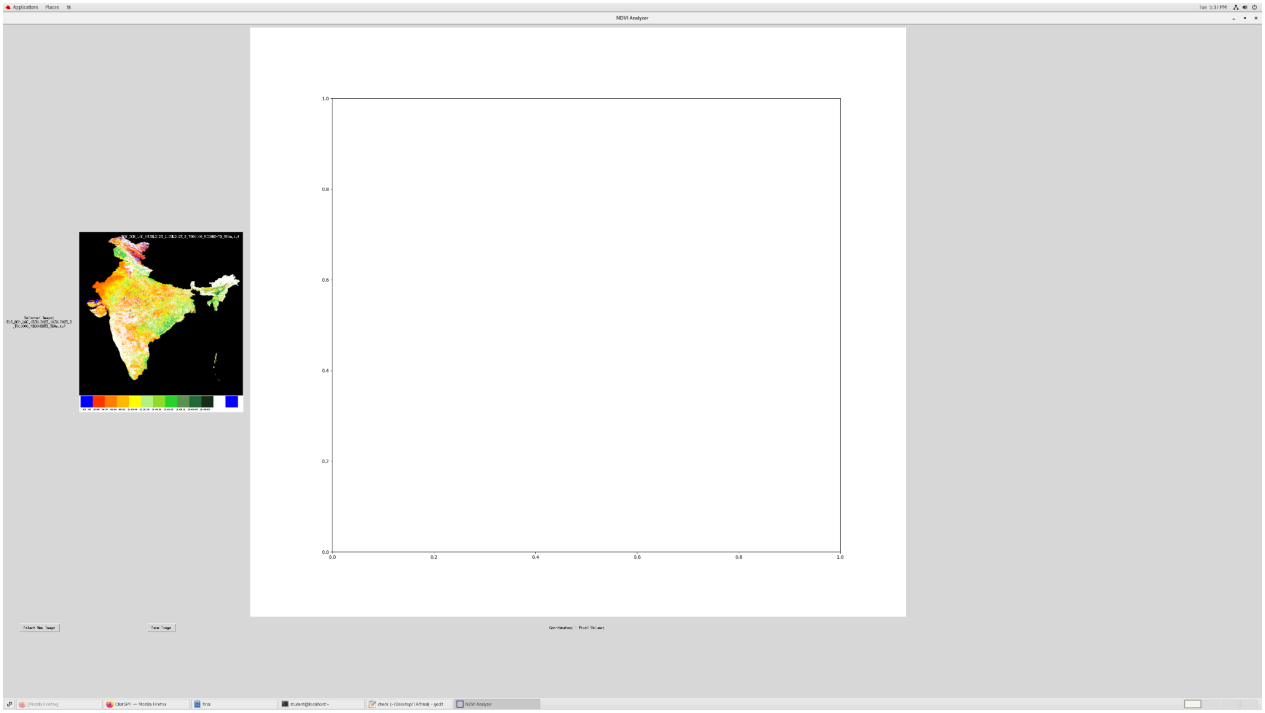

Fig.4.NDVI analyser Interface

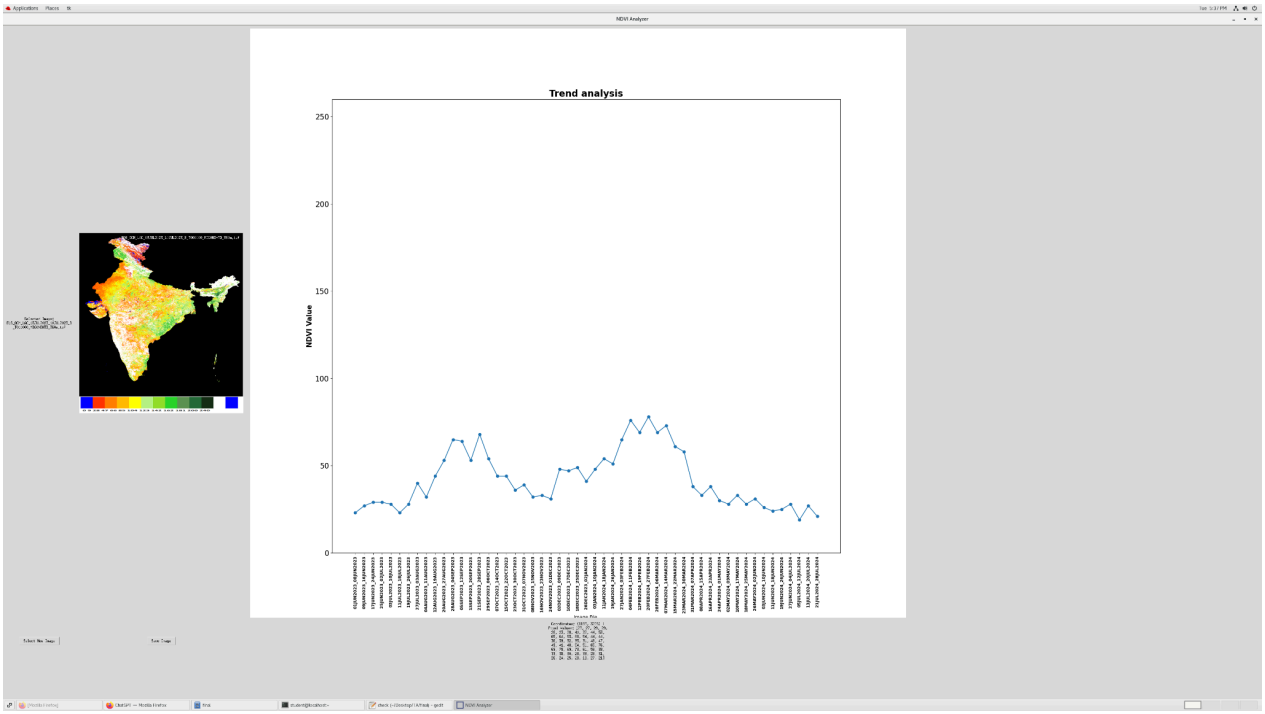

Fig.5. this figure shows the Trend analysis of multiple NDVI images of different time periods

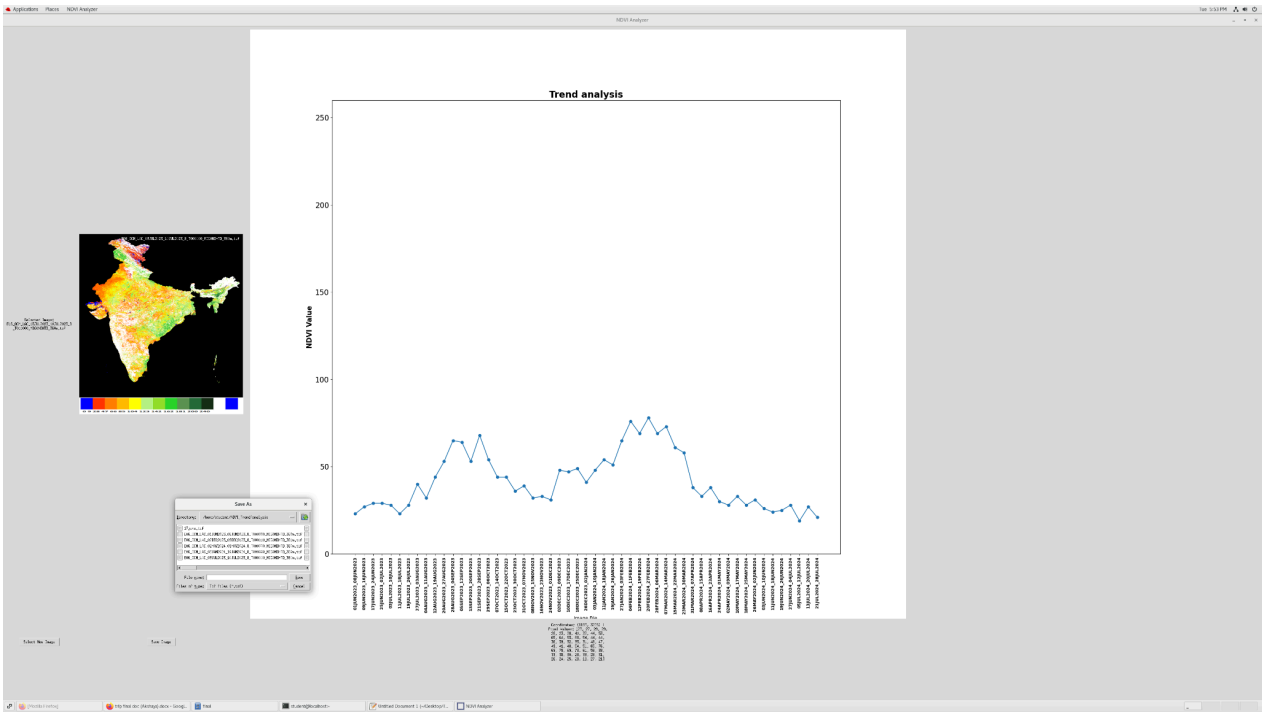

Fig.6. this figure shows that the displayed image can be saved by using the provided option in the interface

CHAPTER-5
CONCLUSION AND FUTURE SCOPE

5.1 CONCLUSION

A comprehensive tool for evaluating vegetative health over time is the NDVI Analyser, which was created for trend analysis of several NDVI images. Through pixel-by-pixel analysis of NDVI values, the tool allows for a thorough investigation of vegetation dynamics, revealing patterns like growth, decrease, or stability in particular regions. This procedure has shown how important it is to track changes in vegetation for use in land use planning, agriculture, and environmental management. In a variety of geospatial investigations, the NDVI analyser aids in the efficient visualization of spatial and temporal patterns and offers information on vegetation health that can guide decision-making.

5.2 FUTURE SCOPE

The future scope of this project includes several potential enhancements to broaden its functionality and application. Integrating more advanced statistical models or machine learning techniques could improve the precision of trend detection and enable predictive analysis. Additionally, expanding the tool's capability to handle larger datasets and high-resolution images from multiple satellite sources would increase its applicability in global-scale monitoring. Further, incorporating other vegetation indices, such as EVI (Enhanced Vegetation Index), or data layers like soil moisture and climate data, could enrich the analysis. The NDVI Analyser can also be developed into a more interactive and user-friendly web application for broader access by researchers, policymakers, and environmentalists.

CHAPTER-6

REFERENCES

[1] **Campbell, J. B., & Wynne, R. H. (2011).** *Introduction to Remote Sensing* (5th Ed.). Guilford Press.

[2] **GDAL/OGR contributors. (2023).** GDAL - Geospatial Data Abstraction Library. Open Source Geospatial Foundation. https://gdal.org.

[3] **Gonzalez, R. C. & Woods, R. E, (2004)**. *Digital Image Processing* (4th Ed.). Pearson.

[4] **Pettorelli, N., et al. (2014).** "The role of satellite remote sensing in the monitoring of ecosystems." *Ecological Indicators*, 44, 154-166.

[5] **Zhang, Y., et al. (2009).** "Evaluating NDVI and NDWI for monitoring vegetation dynamics." *International Journal of Applied Earth Observation and Geoinformation*, 11(3), 179-188.

[6] **Jensen, J. R. (2015).** *Remote Sensing of the Environment: An Earth Resource Perspective*. Pearson.

[7] **Lillesand, T., Kiefer, R. W., & W. W. Chipman. (2015).** *Remote Sensing and Image Interpretation*. Wiley.

[8] **González, J. A., et al. (2015).** "Application of NDVI for vegetation monitoring in temperate and tropical regions." *Proceedings of the IEEE International Geoscience and Remote Sensing Symposium (IGARSS)*, 2015, 2609-2612.

[9] **Gao, B. C. (1996).** "NDVI: A new vegetation index for remote sensing." *Remote Sensing of Environment*, 58(3), 257-262.

[10] **Tucker, C. J. (1979).** "Red and photographic infrared linear combinations for monitoring vegetation." *Remote Sensing of Environment*, 8(2), 127-150.